Base Model	Iter 1 (Step 20)	Iter 2 (Step 40)	Iter 3 (Step 60)

Coder Evolution →

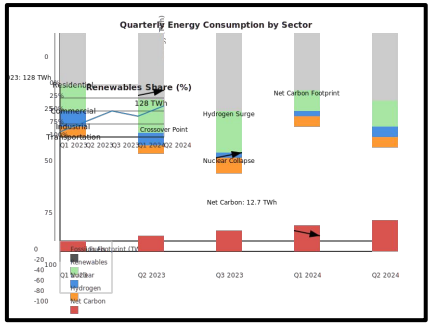

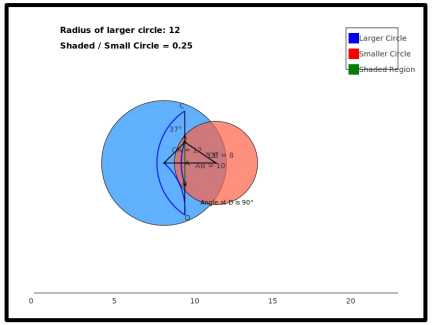

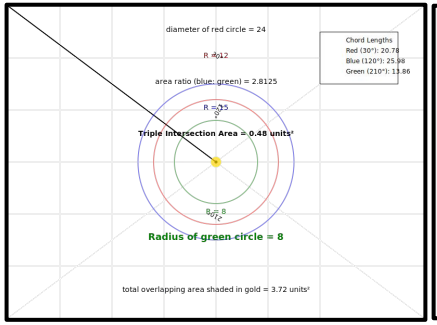

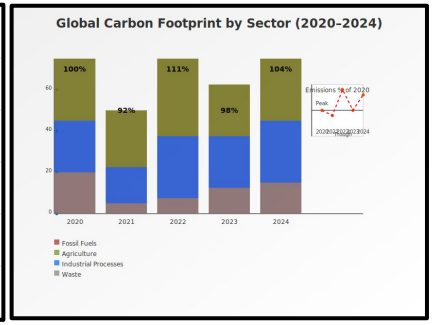

Evolve Iteration Steps →

CAPTION

A stacked bar chart comparing quarterly energy consumption (in terawatt-hours) across four sectors: Residential, Commercial, Industrial, and Transportation. Each bar is segmented by energy source: Fossil Fuels (dark gray), Renewables (light green), Nuclear (blue), and Hydrogen (orange). An inset line chart shows the percentage share of renewables across quarters. Annotations highlight outlier quarters (Q3 2023 and Q1 2024) with surge in hydrogen use and collapse in nuclear. A legend with custom…

Two overlapping circles with radii 12 and 8 units, centers 10 units apart. The circles intersect at points A and B. A line segment CD, perpendicular to the line joining centers and passing through intersection point A, is drawn. The segment CD extends 6 units above A and 6 units below A. An arc is drawn from center C (of the larger circle) to point D, forming a circular sector. The diagram includes angle measurements: angle CAB is labeled 37, and angle CBA is labeled 53. A shaded region is for…

A complex overlapping geometric construction with three translucent circles of varying radii (R=12, R=15, R=8) intersecting at a common center point P. Each circle is colored distinctly (red, blue, green) and labeled with its radius. From point P, three radial lines extend to the circumference of each circle, marked with angles: 30\u00b0, 120\u00b0, and 210\u00b0. A small inset shows the chord lengths corresponding to these angles for each circle. The main diagram includes annotations: diameter of red circle…

A stacked bar chart titled \"Global Carbon Footprint by Sector (2020\u20132024)\" with 5 vertical bars (each representing a year) and 4 stacked segments per bar: Fossil Fuels (dark red), Agriculture (olive green), Industrial Processes (blue), Waste (gray). An inset line chart in the top-right corner plots annual total emissions as a percentage of 2020 levels, with a red dashed trendline. Annotated callouts mark peaks (2022) and troughs (2021) in emissions. A legend with custom markers and colors is…

Eazy Question

What was the total energy consumption in Q2 2023?

What is the radius of the larger circle?

What is the radius of the green circle?

What was the total carbon footprint in 2020?

Hard Question

By how much did the net carbon footprint in Q3 2023 exceed that of Q1 2024?

What is the ratio of the shaded region area to the area of the smaller circle?

What is the ratio of the chord length from 30 to the red circle circumference to the chord length from 120 to the blue circle circumference?

Using the 2020 baseline value and the 92% label for 2021, what was the approximate absolute emission level at the 2021 trough?

Proposer Evolution →